PLOT LOCATION PLAN

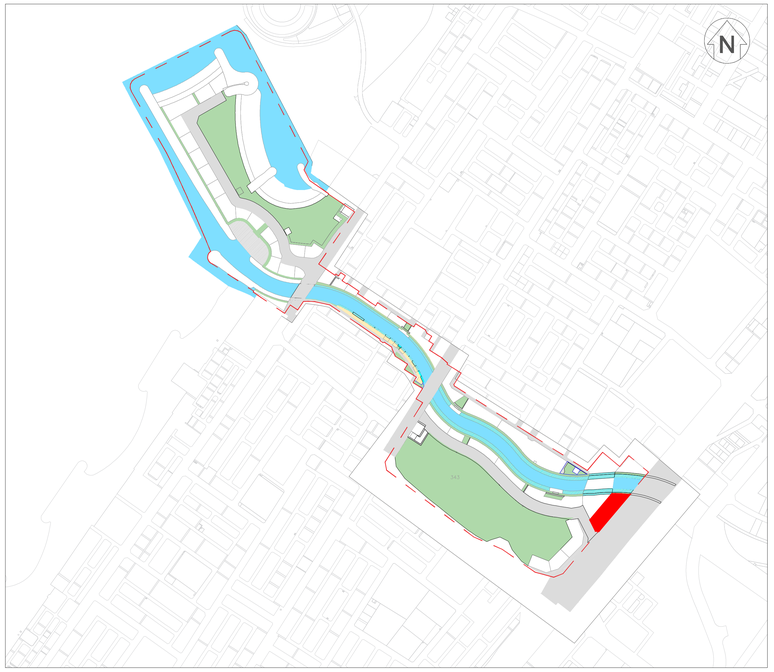

PLOT GUIDELINES PLAN

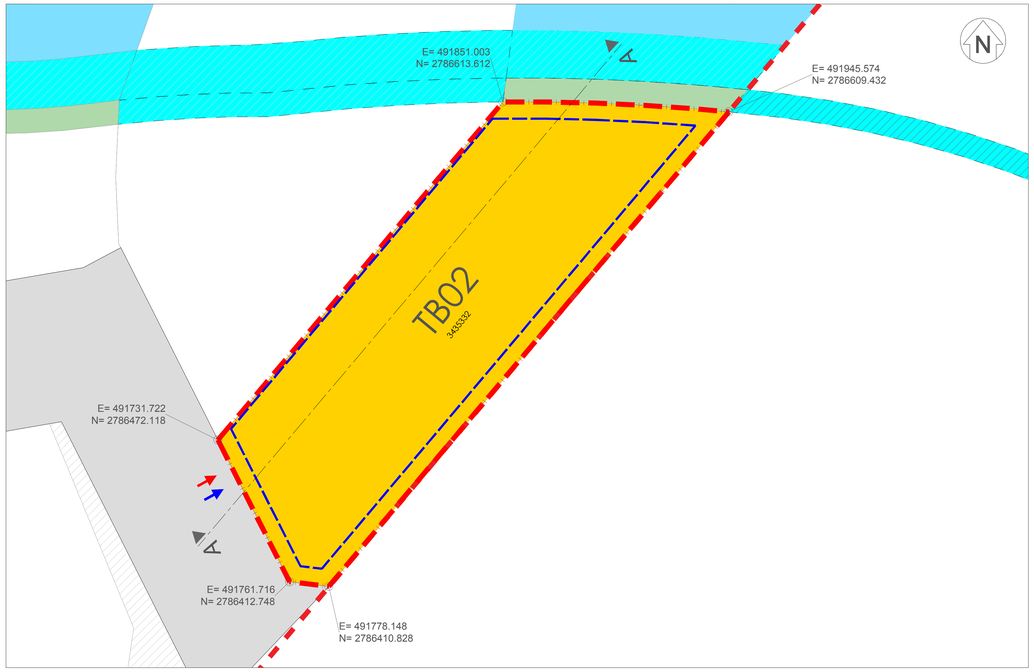

DUBAI WATER CANAL

PLOT DEVELOPMENT REGULATIONS

PLOT DETAILS

PLOT NUMBER	TB02
LAND USE	Mixed Use High Rise (Furnished Apt.)
PLOT AREA	17,219 m² (185,344 ft²)
GFA	86,433 m² (930,357 ft²)
FAR	5.02
Height	G+5P+Unlimited
Parking	DM Standards

SETBACKS

FRONT	1.2 m
REAR	DM Standard
SIDE A	DM Standard
SIDE B	DM Standard

ILLUSTRATIVE SECTION A-A

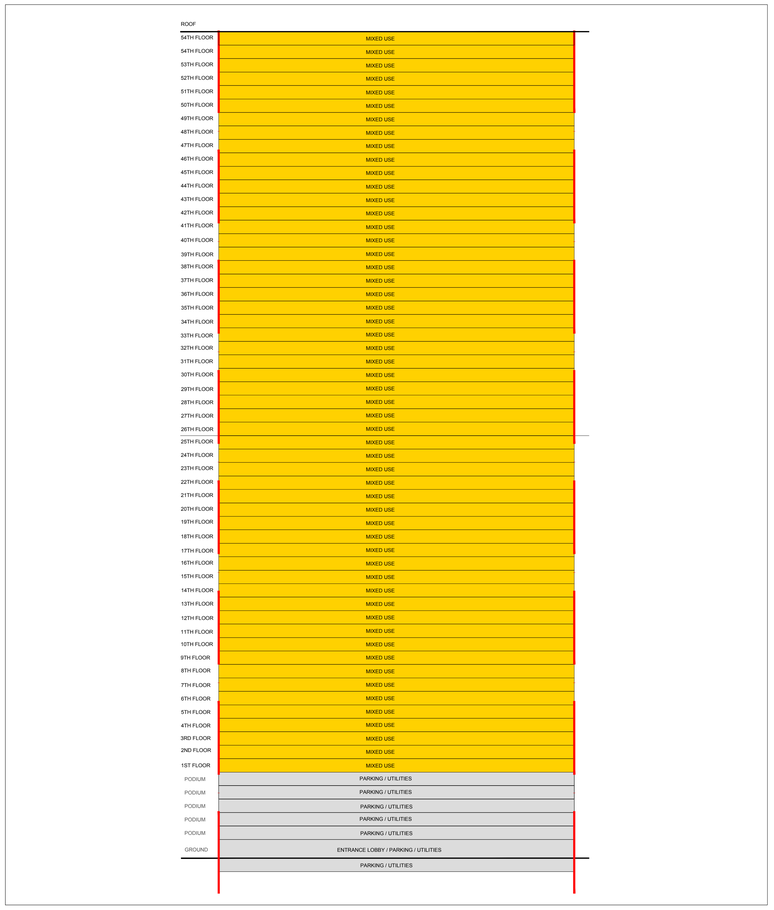

ILLUSTRATIVE BUILDING ENVELOPE

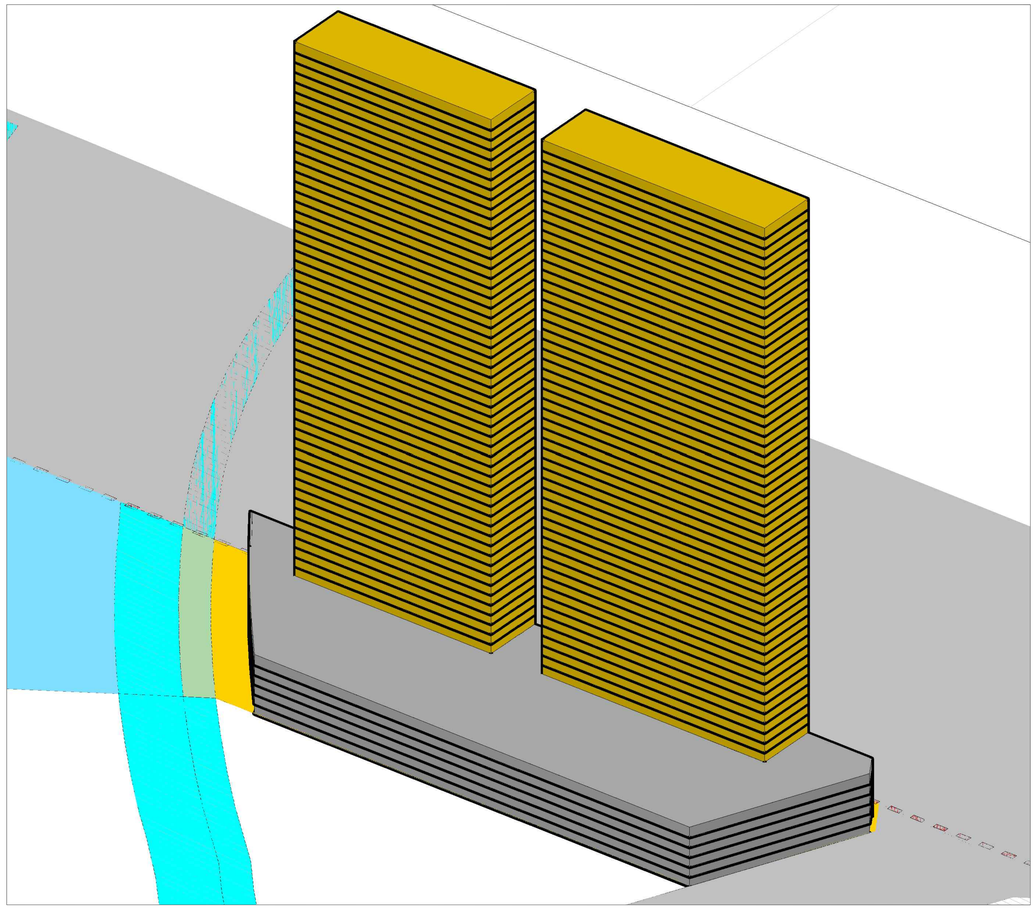

UTILITY ALLOCATION		
PLOT NUMBER	TB02	
UTILITY	UNIT	VALUE
TOTAL CONNECTED LOAD	KW	28,178
AVERAGE WATER DEMAND	M³/DAY	921.60
AVERAGE SEWAGE FLOW	M³/DAY	737.28
TRIP GENERATION - AM	TRIPS	TO BE UPDATED
TRIP GENERATION - LT	TRIPS	TO BE UPDATED
TRIP GENERATION - PM	TRIPS	TO BE UPDATED

General NOTES

Retail, Residential mix with parking is permitted within podium parking levels.

DM standard Set Back on Ground Floor and Podium Levels

LEGEND

- PLOT BOUNDARY
- INDICATIVE VEHICULAR ACCESS
- INDICATIVE PEDESTRIAN ACCESS
- RESIDENTIAL
- PARKING
- OPEN SPACE SIKKA / BUFFER
- RECREATIONAL FACILITIES / PARK

TB02

PLOT DEVELOPMENT REGULATIONS